File:Wfm thaad diagram.svg

From Wikipedia, the free encyclopedia

- File
- File history
- File links

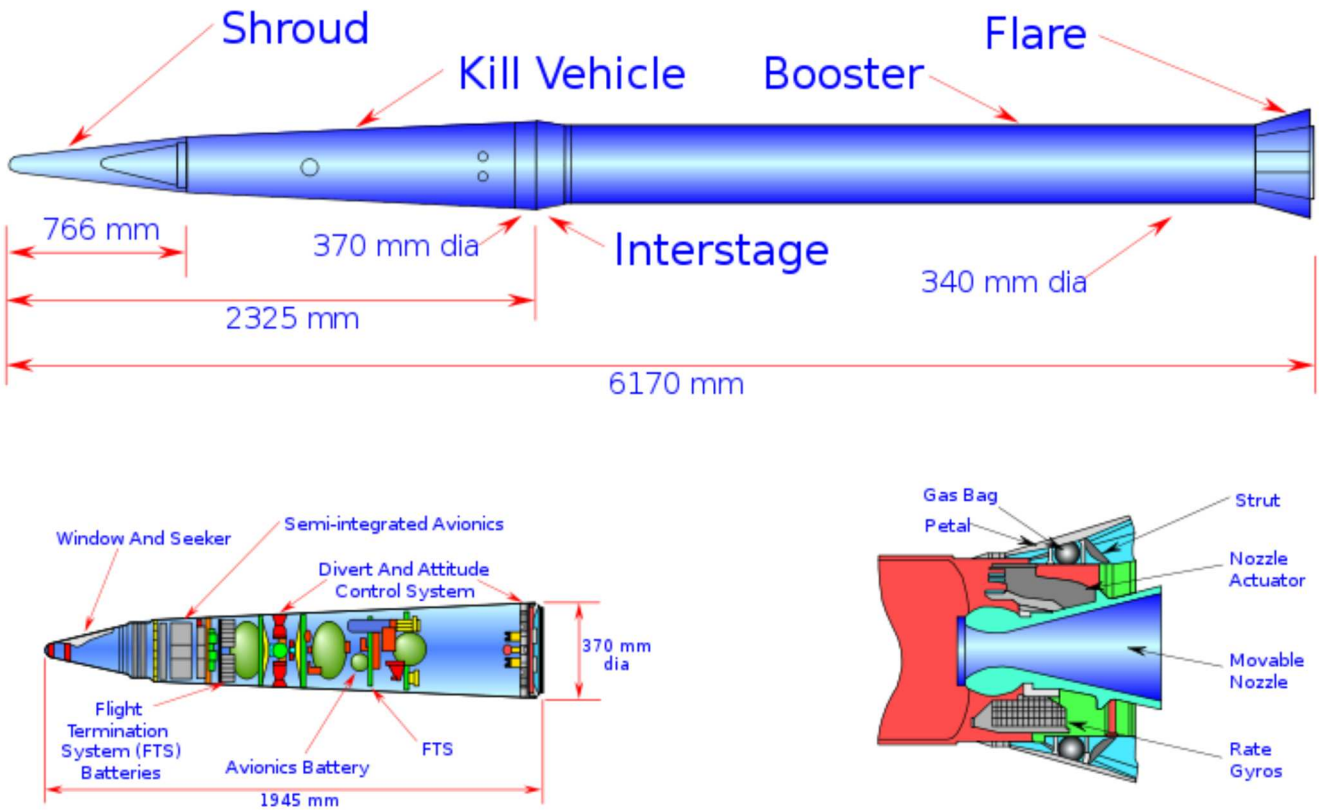

Wfm_thaad_diagram.svg (SVG file, nominally 790 × 524 pixels, file size: 657 KB)

This image rendered as PNG in other sizes: 200px, 500px, 1000px, 2000px.

This is a file from the Wikimedia Commons. The description on its **description page there** is shown below.
Commons is a freely licensed media file repository. You can help.

Summary

A diagram of the THAAD missile.

Source: http://www.mda.mil/mdalink/pdf/38112.pdf

Licensing

*This image is a work of the United States Missile Defense Agency; as a work of the U.S. federal government, the image is in the **public domain**.*

Replaces Image:THAAD Diagram.jpg

Method of production

- PDF converted to SVG with online tools at http://freesvg.texterity.com/
- SVG edits (minor tweak, mostly) in Inkscape

File history

Click on a date/time to view the file as it appeared at that time.

	Date/Time	Thumbnail	Dimensions	User	Comment
current	19:55, 24 March 2007	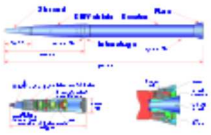	790×524 (657 KB)	Finlay McWalter	(Text label tweaks)
	19:38, 24 March 2007	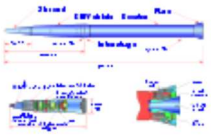	790×524 (657 KB)	Finlay McWalter	(== Summary == A diagram of the THAAD missile. Source: http://www.mda.mil/mdalink /pdf/38112.pdf == Licensing == {{PD-USGov-Military-MDA}} Replaces Image:THAAD Diagram.jpg ==Method of production== * PDF converted to SVG with online tools at http://)

File links

The following pages on the English Wikipedia link to this file (pages on other projects are not listed):

- Terminal High Altitude Area Defense

Global file usage

The following other wikis use this file:

- Usage on de.wikipedia.org
  - Terminal High Altitude Area Defense
- Usage on he.wikipedia.org
  - הגנה מרחבית בגובה רב
- Usage on ja.wikipedia.org

    - THAADミサイル
- Usage on ko.wikipedia.org
    - 전구 고고도 지역방어
- Usage on pl.wikipedia.org
    - Terminal High Altitude Area Defense
- Usage on ru.wikipedia.org
    - THAAD

Retrieved from "http://en.wikipedia.org/wiki/File:Wfm_thaad_diagram.svg"